Supplementary Material (SI)

1. Dataset

Table 2 Table S1: Site characteristics. Abbreviations: Man. (EAF=even-aged forestry, CCF=continuous-cover forestry), Dist. (F=fertilization, FI=fire, CC=clear-cut, T=thinning, SH=stump harvest), Clim. (Koeppen climate class)

Site	Sitename	Lat	Lon	Age	LAI	Species	Fert.	Sitetype	Soil	Texture	Man.	Dist.	Habit.	Clim
FI-Ken	Kenttärova	67.98	24.25	99	2.8	Spruce	Poor	Sub-Xeric	Mineral	Fine Till			Boreal	Dfc
FI-Var	Värriö	67.76	29.62	68	1.9 (1.6-3.0)	Pine	Poor	Xeric	Mineral	Sandy Till			Boreal	Dfc
FI-Sod	Sodankylä	67.36	26.64	99	1.7	Pine	Poor	Sub-Xeric	Mineral	Fine Till			Boreal	Dfc
IS-Val	Vallanes	65.32	14.93	12	2.9 (2.0-3.3)	Decid	Low	Sub-Xeric	Mineral	Fine	EAF		Boreal	ET
SE-Svb	Svartberget	64.26	19.78	94	4.6	Mixed Conif	Low	Sub-Xeric	Mineral	Fine Till	EAF		Boreal	Dfc
SE-Ros	Rosinedal	64.17	19.74	92	2.6 (2.3-2.7)	Pine	Low	Sub-Xeric	Mineral	Fine Till	EAF		Boreal	Dfc
SE-Ros-Fert	Rosinedal Fertilized	64.17	19.74	91	2.9 (1.8-3.1)	Pine	Low	Sub-Xeric	Mineral	Fine Till	EAF	F	Boreal	Dfc
SE-Hal-De	Hälsingfors Dense	64.15	19.55	120		Mixed	High	Mesic	Organic	Peat	EAF		Boreal	Dfc
SE-Hal-Sp	Hälsingfors Sparse	64.15	19.55	120		Pine	Low	Sub-Xeric	Organic	Peat	EAF		Boreal	Dfc
SE-Fla	Flakaliden	64.07	19.27	46	4.8 (4.6-4.8)	Spruce	High	Mesic	Mineral	Sandy Till	EAF		Boreal	Dfc
IS-San	Sandlaekjarmyri	64.03	20.37	25		Decid	High	Herb-Rich	Organic	Peat	EAF		Boreal	Cfc
FI-Huh	Huhus	62.47	30.58	55	1.8	Pine	Low	Sub-Xeric	Mineral	Sandy Till	EAF		Boreal	Dfc
FI-Alk	Alkkia	62.11	22.47	31	2.2	Pine	High	Herb-Rich	Organic	Peat	EAF		Boreal	Dfc
SE-HY	Ljusdal Fire 1	61.94	15.48	3		Pine	Low	Sub-Xeric	Mineral	Sandy Till	EAF	FI	Boreal	Dfc
SE-SLM	Ljusdal Fire 2	61.94	15.43	3		Pine	Low	Sub-Xeric	Mineral	Sandy Till	EAF	FI	Boreal	Dfc
FI-Hyy	Hyytiälä	61.85	24.30	48	3.8 (2.5-4.5)	Pine	Low	Sub-Xeric	Mineral	Fine Till	EAF	T	Boreal	Dfc
FI-Hyy-Cc	Hyytiälä 4 Yr	61.51	24.17	4	0.3	Pine	Low	Sub-Xeric	Mineral	Fine Till	EAF		Boreal	Dfc
FI-Hyy-12	Hyytiälä 12 Yr	61.51	24.17	12	0.9	Pine	Low	Sub-Xeric	Mineral	Fine Till	EAF		Boreal	Dfc
FI-Hyy-75	Hyytiälä 75 Yr	61.51	24.17	75	3.5	Pine	Low	Sub-Xeric	Mineral	Fine Till	EAF		Boreal	Dfc
FI-Hyy-Cc2	Hyytiälä Spruce Clear-Cut	61.51	24.17	2	0.5	Decid	High	Mesic	Mineral	Fine Till	EAF	CC	Boreal	Dfc
FI-Ran-Cc	Ränskälänkorpi Clear-Cut	61.18	25.26	1	0.5	Decid	High	Herb-Rich	Organic	Peat	EAF	CC	Boreal	Dfc
SE-Kno	Knottåsen	61.00	16.13	42	3.5	Spruce	High	Mesic	Mineral	Sandy Till	EAF		Boreal	Dfc
FI-Let	Lettosuo CCF	60.64	23.96	47	3.6 (2.2-4.6)	Mixed	High	Herb-Rich	Organic	Peat	EAF	T	Boreal	Dfb
FI-Let-Cc	Lettosuo Clear-Cut	60.64	23.96	3	1.0 (0.2-1.5)	Decid	High	Herb-Rich	Organic	Peat	EAF	CC	Boreal	Dfb
FI-Let-Cc-Cont	Lettosuo Clear-Cut Control	60.64	23.96	44	4.6	Mixed	High	Herb-Rich	Organic	Peat	EAF		Boreal	Dfb
FI-Kal	Kalevansuo	60.39	24.21	122	2.2	Pine	Low	Sub-Xeric	Organic	Peat	EAF		Boreal	Dfb
SE-Sta	Stadra Clear-Cut	59.55	14.70	2	0.3 (0.0-0.5)	Decid	High	Mesic	Mineral	Fine	EAF	CC, SH	Boreal	Dfc
SE-Nor	Norunda	60.09	17.48	118	4.7 (4.0-6.6)	Mixed Conif	High	Mesic	Mineral	Sandy Till	EAF	T	Hemibor.	Dfb
SE-Sk1	Skyttorp Young	60.07	17.50	11 (1 - 21)	1.0 (0.0-2.0)	Mixed	Low	Sub-Xeric	Mineral	Sandy Till	EAF	CC	Hemibor.	Dfb
SE-Sk2	Skyttorp Mature	60.07	17.50	38	5.3	Pine	Low	Sub-Xeric	Mineral	Sandy Till	EAF		Hemibor.	Dfb
NO-Hox	Hoxmark	59.67	10.72	8	1.0	Spruce	High	Mesic	Mineral	Fine Till	EAF		Hemibor.	Dfb
SE-Fib	Fiby Urskog	59.54	17.22	296	2.0	Mixed Conif	High	Mesic	Mineral	Fine Till			Hemibor.	Dfb
SE-Skg	Skogaryd Central Spruce	58.38	12.15	63	7.7 (5.1-9.0)	Spruce	High	Mesic	Organic	Peat	EAF		Hemibor.	Cfb
EE-Kon-Cc	Kontu Clear-Cut	58.28	27.16	6	0.4	Pine	High	Mesic	Mineral	Coarse	EAF	CC	Hemibor.	Dfb
EE-Aga	Agali	58.28	27.28	40	5.0	Decid	High	Herb-Rich	Mineral	Fine	EAF		Hemibor.	Dfb
EE-Jvs-Cc	Järvselja Clear-Cut	58.28	27.47	1	0.5	Decid	High	Herb-Rich	Mineral	Fine Till	EAF	CC	Hemibor.	Dfb
EE-Jvs	Järvselja	58.27	27.30	70	5.0	Mixed	High	Mesic	Mineral	Fine Till	EAF		Hemibor.	Dfb
EE-Lii	Liispollu	58.27	27.27	36	7.0	Mixed	High	Herb-Rich	Mineral	Fine Till	EAF		Hemibor.	Dfb
EE-Pal1	Palo 1	58.09	26.93	112		Pine	Low	Sub-Xeric	Mineral	Sandy Till	CCF	SH	Hemibor.	Dfb
EE-Soo	Soontaga	58.02	26.07	200	3.0	Pine	Low	Sub-Xeric	Mineral	Sandy Till	CCF		Hemibor.	Dfb
SE-Asa	Åsa	57.08	14.45	39	5.4	Spruce	High	Herb-Rich	Mineral	Fine Till	EAF		Hemibor.	Cfb
SE-Tof-L	Toftaholm Larch	57.00	14.30	7 (1 -13)		Decid	High	Mesic	Mineral	Sandy Till	EAF	CC	Hemibor.	Cfb
SE-Tof-PS1	Toftaholm Pine, Fertilized	57.00	14.30	11 (8-13)		Mixed	High	Mesic	Mineral	Sandy Till	EAF	CC, F	Hemibor.	Cfb
SE-Tof-PS2	Toftaholm Pine, Fertilized	57.00	14.30	11 (8-13)		Mixed	High	Mesic	Mineral	Sandy Till	EAF	CC, F	Hemibor.	Cfb
SE-Tof-PSH	Toftaholm Pine, Stump-Harvest	57.00	14.30	7 (2-12)		Mixed	High	Mesic	Mineral	Sandy Till	EAF	CC, SH	Hemibor.	Cfb
RU-Fyo	Fyodorovskoye Wet Spruce	56.46	32.92	189	3.5	Spruce	High	Mesic	Organic	Peat			Hemibor.	Dfb
RU-Fy2	Fyodorovskoye Dry Spruce	56.45	32.90	198	6.5	Mixed	High	Herb-Rich	Mineral	Fine			Hemibor.	Dfb
SE-Rum	Rumperöd	56.34	14.12	99	7.7	Mixed	High	Mesic	Mineral	Coarse	CCF		Hemibor.	Cfb
SE-Htm	Hyltemossa	56.10	13.42	35	5.7	Spruce	High	Mesic	Mineral	Sandy Till	EAF		Hemibor.	Cfb
DK-Gds	Gludstedt Plantage	56.07	9.33	33	5.5	Spruce	High	Mesic	Mineral	Coarse	EAF		Beech F.	Cfb
DK-Sor	Soroe	55.49	11.65	89	4.5	Decid	High	Herb-Rich	Mineral	Fine	EAF		Beech F.	Cfb

Table 3 Table S2: Annual fluxes and average meteorological conditions over site years. T (air temperature), P (precipitation, mm), f_s (fraction of P as snow), PET (potential ET, mm), DDs (temperature sum), GSL (
length, days), T_{gs} (growing-season T), fYr, Lyr (first and last years), obs. (NEP site-years), Source (FN15=Fluxnet2015, A=article-based)

Site	NEP (g C m^{-2} a−1)	GPP (g C m^{-2} a−1)	R_e (g C $m^{-2}a$-1)	T	P	f_s	PET	DDs	GSL	T_{gs}	fYr	lYr	obs.	Source	Reference
FI-Ken	-43 (-114 / 31)	710 (610 / 859)	754 (698 / 828)	0.5	673	0.28	396	794	124	10.8	2018	2020	3	ICOS	Aurela et al. (2015)
FI-Var	-16 (-30 / 3)	481 (382 / 539)	497 (412 / 553)	0.5	679	0.31	372	740	122	10.5	2016	2020	5	ICOS	Kulmala et al. (2019)
FI-Sod	-83 (-149 / -10)	629 (508 / 849)	712 (547 / 859)	0.9	543	0.28	404	920	134	11.3	2001	2014	14	FN15	Thum et al. (2007)
IS-Val	108 (67 / 155)	544 (486 / 590)	436 (331 / 523)	0.0	878	0.46	332	334	102	7.6	2004	2006	3	A	Bjarnardottir et al. (2009)
SE-Svb	157 (129 / 195)	1163 (1061 / 1252)	1006 (866 / 1095)	3.3	656	0.25	490	1104	144	12.2	2014	2020	6	ICOS	Chi et al. (2019)
SE-Ros	252 (112 / 309)	959 (869 / 1055)	707 (584 / 794)	3.8	699	0.27	500	1186	155	12.2	2006	2020	7	ICOS	Zhao et al. (2022)
SE-Ros-fert	288 (253 / 364)	1020 (840 / 1160)	732 (582 / 796)	3.7	657	0.27	498	1187	157	12.2	2006	2019	6	A	Zhao et al. (2022)
SE-Hal-de	118 (98 / 138)	884 (883 / 884)	766 (746 / 785)	2.7	718	0.22	497	1070	157	11.4	2021	2022	2	A	Tong et al. (2024)
SE-Hal-sp	165 (162 / 168)	905 (890 / 920)	740 (722 / 758)	2.7	718	0.22	497	1070	157	11.4	2021	2022	2	A	Tong et al. (2024)
SE-Fla	54 (-42 / 148)	907 (711 / 1136)	855 (745 / 1027)	2.9	653	0.27	481	1087	153	11.7	1997	2013	17	A	Hadden & Grelle (2016)
IS-San	714 (614/ 814)	1285 (1183 / 1387)	571 (569 / 573)	3.9	1671	0.15	411	705	157	9.1	2015	2016	2	A	Bjarnardottir et al. (2021)
FI-Huh	200 (158 / 282)	836 (739 / 922)	637 (553 / 720)	3.6	699	0.24	483	1315	166	12.6	1999	2008	10	A	Ge et al. (2011)
FI-Alk	123 (26 / 220)	1099 (1032 / 1166)	976 (946 / 1006)	4.2	554	0.19	496	1278	170	12.2	2003	2004	2	A	Lohila et al. (2007)
SE-HY	-131 (-208 / -64)	165 (91 / 277)	295 (265 / 341)	5.1	717	0.20	547	1295	177	11.8	2019	2022	4	A	Kelly et al. (2024)
SE-SLM	-155 (-201 / -100)	91 (22 / 179)	246 (223 / 279)	5.2	695	0.18	556	1308	181	11.7	2020	2022	3	A	Kelly et al. (2024)
FI-Hyy	207 (-115 / 302)	1126 (967 / 1282)	919 (781 / 1082)	4.6	661	0.20	505	1340	172	12.4	1997	2022	26	ICOS	Launiainen et al. (2022)
FI-Hyy-cc	-386	323	709	5.6	656	0.16	497	1343	205	11.3	2000	2000	1	A	Kolari et al. (2004)
FI-Hyy-12	23	928	905	4.6	504	0.28	557	1556	162	14.3	2002	2002	1	A	Kolari et al. (2004)
FI-Hyy-75	324	940	616	4.3	630	0.18	485	1402	180	12.5	2001	2001	1	A	Kolari et al. (2004)
FI-Hyy-cc2	-557	619	1176	5.8	613	0.16	566	1688	174	14.3	2018	2018	1	A	Ahmed (2019)
FI-Ran-cc	-580	320	900	5.5	713	0.28	555	1418	188	12.1	2022	2022	1	A	Tikkasalo et al. (2025)
SE-Kno	-52 (-86 / 41)	1201 (1073 / 1427)	1254 (1159 / 1386)	4.2	680	0.24	527	1241	170	11.9	2001	2009	4	A	Lindroth et al. (2007)
FI-Let	-7 (-210 / 253)	1268 (889 / 1516)	1275 (1009 / 1557)	5.5	696	0.16	521	1471	177	12.9	2010	2021	12	A	Korkiakoski et al. (2023)
FI-Let-cc	-524 (-838 / -218)	582 (275 / 873)	1107 (952 / 1205)	5.7	757	0.16	531	1468	178	12.8	2016	2021	6	A	Korkiakoski et al. (2023)
FI-Let-cc-cont	95 (46 / 134)	1306 (1096 / 1456)	1211 (1050 / 1391)	5.3	635	0.17	511	1474	177	12.9	2010	2015	6	A	Korkiakoski et al. (2023)
FI-Kal	231 (138 / 272)	1038 (881 / 1132)	807 (743 / 875)	6.0	689	0.17	546	1529	188	12.7	2005	2008	4	A	Minkkinen et al. (2018)
SE-Sta	-462 (-488 / -413)			5.6	800	0.15	537	1425	182	12.5	2008	2010	3	A	Grelle et al. (2012)
SE-Nor	-387 (-685 / -222)	1373 (1057 / 1693)	1760 (1503 / 2111)	6.6	606	0.14	581	1552	191	12.7	2007	2020	14	A	Lindroth et al. (2018)
SE-Sk1	-42 (-369 / 204)	560 (454 / 692)	748 (609 / 852)	6.8	591	0.14	586	1608	196	12.8	2001	2021	21	A	Grelle et al. (2023)
SE-Sk2	241	1204	963	6.8	563	0.12	576	1609	229	11.6	2005	2005	1	A	Lindroth et al. (2008)
NO-Hox	214			6.4	1295	0.14	555	1482	169	13.2	2019	2019	1	A	Zhao et al. (2023)
SE-Fib	-68 (-154 / -36)			6.8	585	0.12	583	1651	207	12.6	2004	2013	10	A	Hadden & Grelle (2017)
SE-Skg	325 (192 / 582)	1860 (1851 / 1869)	1473 (1287 / 1659)	8.1	832	0.09	624	1733	213	12.8	2008	2018	3	A	Meyer et al. (2013), Lindroth et
EE-Kon-cc	-119	987	1106	6.7	774	0.14	586	1752	167	15.1	2016	2016	1	A	Uri et al. (2019)
EE-Aga	587 (497 / 663)	1330 (1258 / 1420)	743 (595 / 923)	7.0	587	0.13	621	1735	186	13.8	2017	2019	1	A	Krasnova et al. (2025; 2022)
EE-Jvs-cc	-690			8.4	661	0.11	634	1782	192	13.8	2020	2020	1	A	Rebane et al. (2020)
EE-Jvs	-293 (-441 / -144)			6.6	639	0.13	601	1693	182	13.8	2017	2018	2	A	Krasnova et al. (2019, 2022)
EE-Lii	585	1281	696	7.8	603	0.10	603	1657	169	14.3	2015	2015	1	A	Krasnova et al. (2019)
EE-Pal1	181	928	747	6.2	790	0.17	602	1727	211	12.7	2021	2021	1	A	Uri et al. (2024)
EE-Soo	233 (189 / 277)	1314 (1201 / 1447)	1028 (1012 / 1043)	6.8	750	0.13	597	1705	182	13.9	2016	2019	2	A	Krasnova et al. (2022), Lindroth
SE-Asa	304	1317	1013	7.1	746	0.11	591	1626	170	14.1	2002	2002	1	A	Lindroth et al. (2007)
SE-Tof-L	-79 (-502 / 489)	1231 (863 / 1849)	1245 (1148 / 1360)	7.2	761	0.10	560	1600	216	12.1	2005	2018	14	A	Grelle et al. (2023)
SE-Tof-PS1	410 (178 / 483)			7.6	715	0.10	579	1649	220	12.2	2013	2018	6	A	Grelle et al. (2023)
SE-Tof-PS2	400 (178 / 496)			7.6	715	0.10	579	1649	220	12.2	2013	2018	6	A	Grelle et al. (2023)
SE-Tof-PSH	158 (-172 / 499)	1320 (906 / 1616)	1133 (1048 / 1207)	7.1	774	0.10	549	1541	213	11.9	2007	2017	11	A	Grelle et al. (2023)
RU-Fyo	-102 (-364 / 89)	1517 (1193 / 1977)	1618 (1285 / 2267)	5.3	732	0.20	580	1615	180	13.5	1998	2020	23	ICOS	Mamkin et al. (2023)
RU-Fy2	-54 (-159 / 128)	1648 (1314 / 1914)	1702 (1473 / 1896)	5.9	771	0.19	596	1593	174	13.6	2015	2020	6	ICOS	Mamkin et al. (2022)
SE-Rum	226 (174 / 368)	1628 (1550 / 1686)	1402 (1292 / 1505)	8.3	699	0.08	615	1770	223	12.6	2015	2018	4	A	Delin (2019), Lindroth et al. (20
SE-Htm	181 (17 / 367)	2143 (1896 / 2539)	1962 (1710 / 2522)	8.5	740	0.06	616	1755	223	12.4	2015	2020	6	ICOS	Delin (2019), Lindroth et al. (20
DK-Gds	695 (554 / 937)	1747 (1664 / 2000)	1053 (981 / 1118)	8.1	767	0.06	599	1695	238	11.8	2009	2014	6	A	Pilegaard & Ibrom (2020)
DK-Sor	216 (-102 / 461)	2051 (1552 / 2498)	1836 (1577 / 2170)	9.0	672	0.06	659	1891	256	12.1	1997	2020	24	ICOS	Jensen et al. (2017)

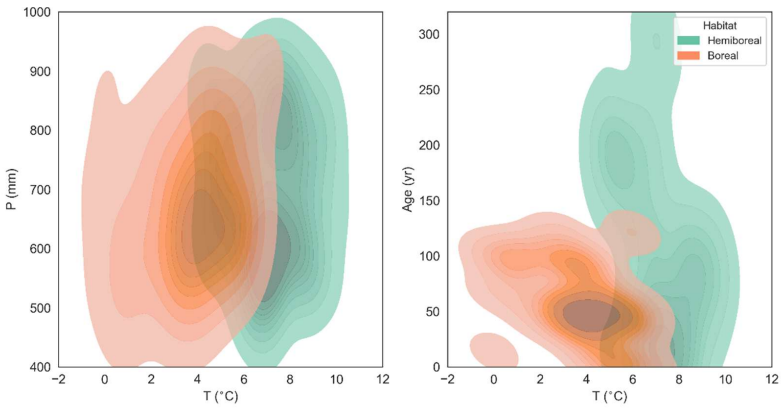

Fig. S1.1: Distributions of site-years in temperature (T) precipitation (P) and T–Age space. Beech forest habitat (DK-Sor, DK-Gds) sites are merged with Hemiboreal.

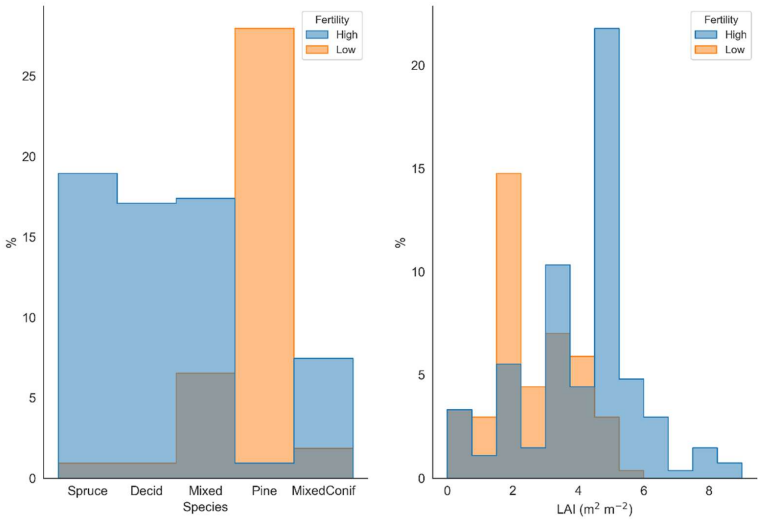

Fig. S1.2: Distribution of species and leaf-area index (LAI) on High and Low fertility sites.

1.1. Correlations between NEP, GPP, ER and annual climate variables

We retrieved daily ERA5 Land data from nearest grid-point of each flux site, and computed annual and growing season averages or cumulative balances of large set of climate variables (Xi). Pairwise Pearson correlations between each variable are shown in Fig. S1.3. Based on correlation analysis and apriori knowledge on potential drivers, we selected subset of non-correlated predictor variables (Xi) for the model fitting (Fig. S1.4).

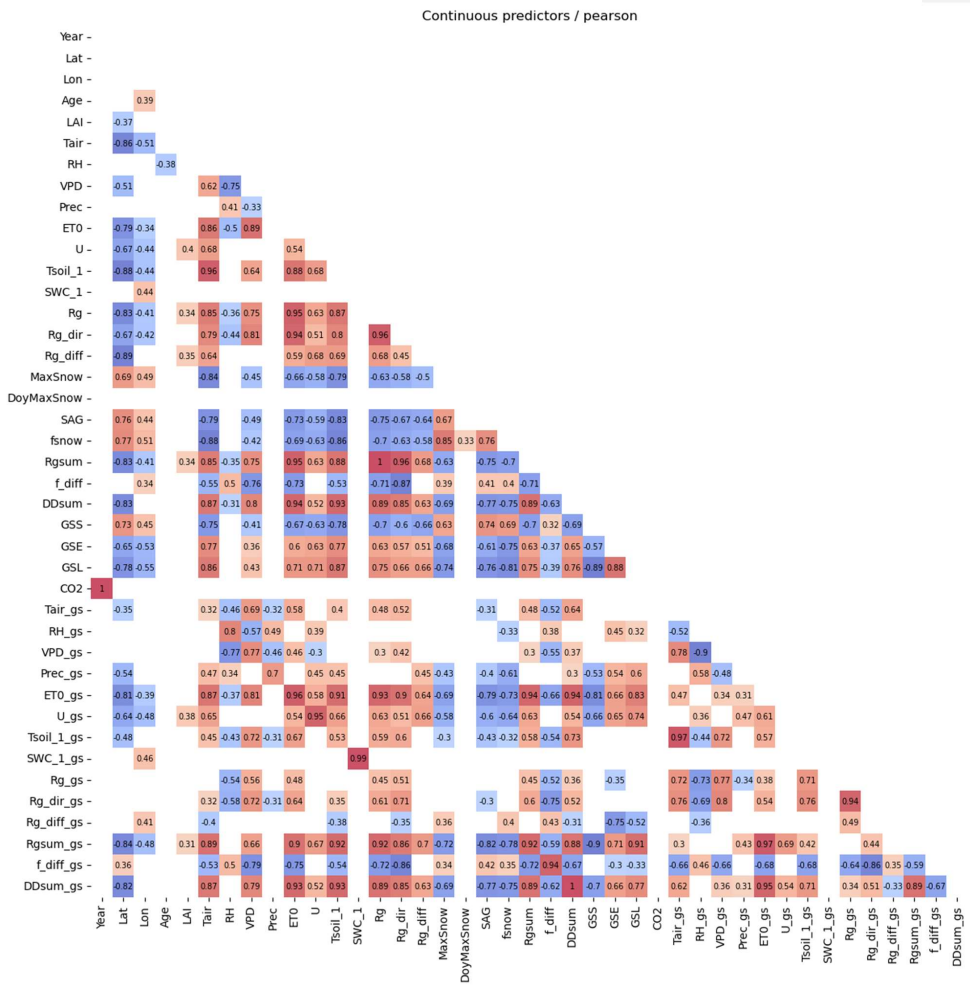

Fig. S1.3: Pairwise Pearson correlations between annual climate variables (ERA5 Land), site latitude and leaf-area index (LAI). For clarity only |r|>0.3 are show. Variables: ET0 (Potential evapotranspiration); SWC (soil water content); SAG (snow melt doy) GSS, GSE and GSL (thermal growing season start, end and length (days)); fsnow (fraction of annual Prec as snow); f_diff (diffuse fraction of global radiation); DDsum (temperature sum).

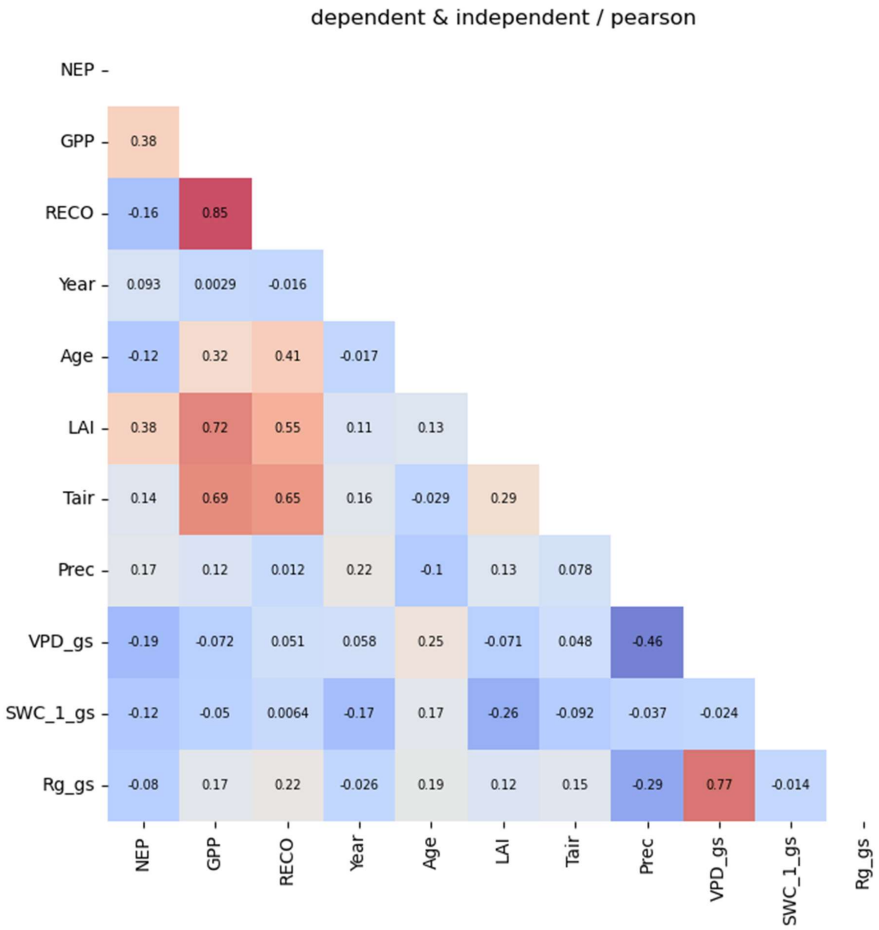

Fig. S1.4: Pairvise correlations among the used predictors X_i and with NEP, GPP and ER.

2. Supplementary Analysis

2.1 Figures

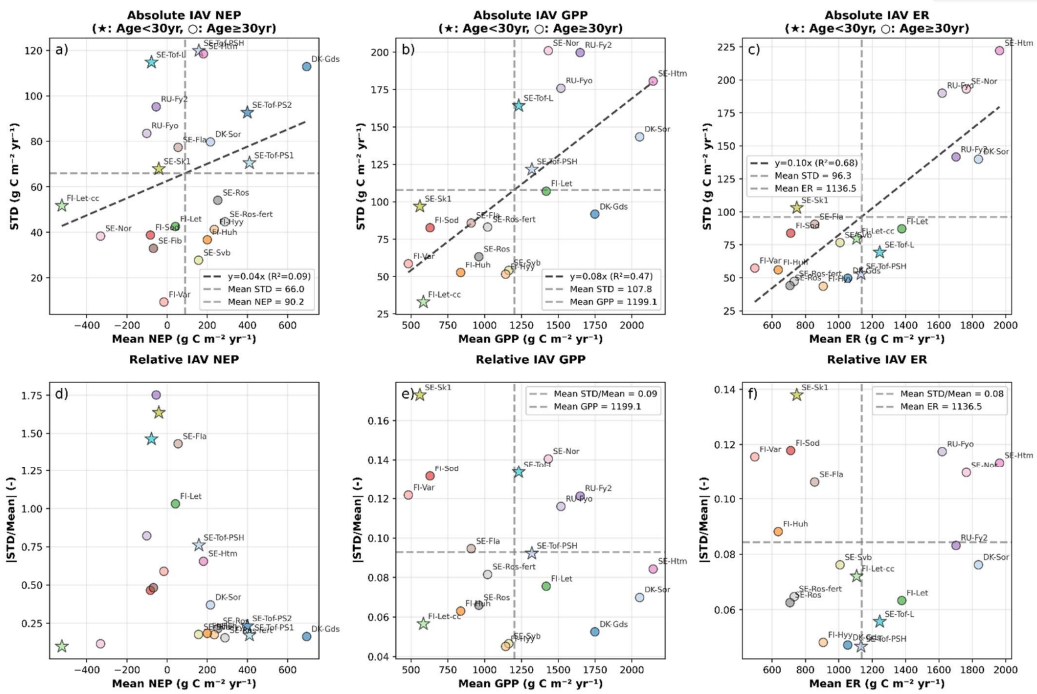

Fig. S2.1: Absolute (a – c) and relative (d – f) inter-annual variability (IAV) for sites with ≥5yrs of data. Stars depict young forests (maximum Age < 22 years) and circles older stands. The IAV is calculated as standard deviation (STD) around linear trend line (Fig. S1.4 – 1.6). Year of thinning and 3 subsequent years are removed from FI-Hyy, FI-Let and SE-Nor sites before trend fitting and IAV calculation. Thus, IAV represents here the effect of inter-annual weather variability, and the effects of long-term changes in climate conditions, stand structure or transient management effects are removed.

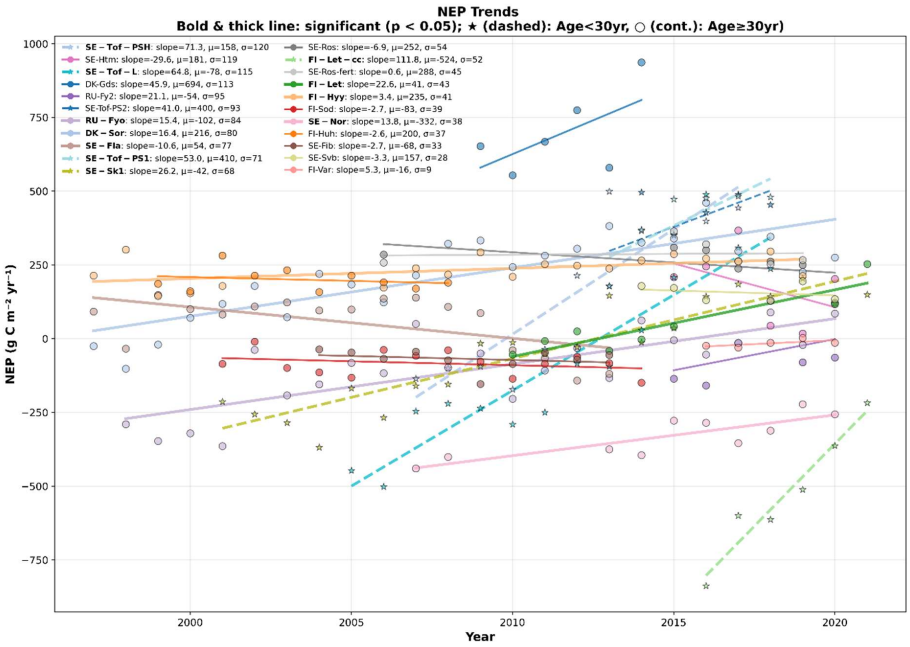

Fig S2.2: NEP trends for sites with ≥5yrs of data. Bold lines and fonts indicate statistically significant ($p < 0.05$) trends; μ is mean NEP and σ standard deviation (STD) around the trendline. Dashed lines are forests with maximum age <22yr. Year of thinning and 3 subsequent years are removed from FI-Hyy, FI-Let and SE-Nor sites before trend fitting.

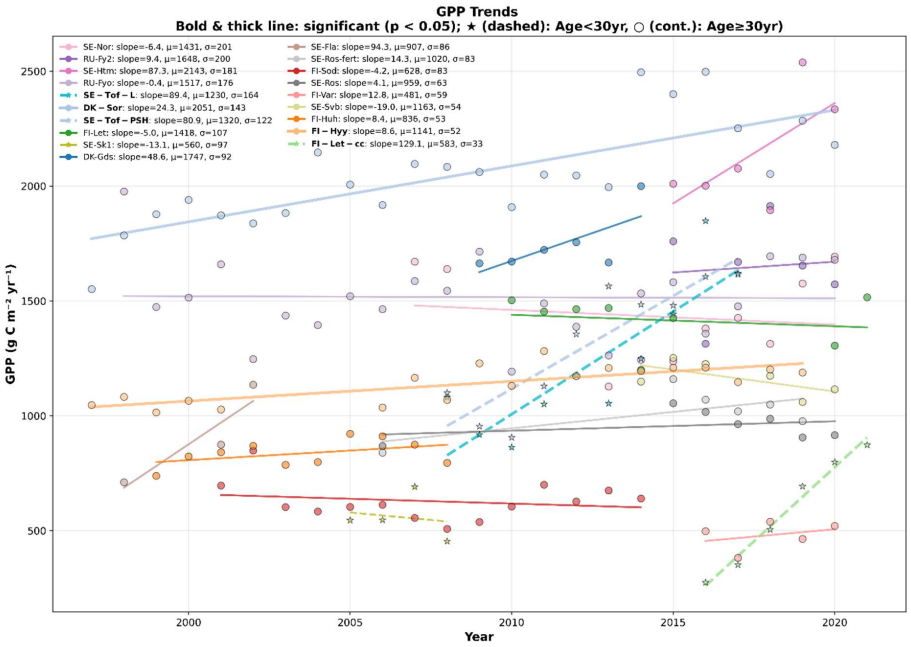

Fig S2.3: GPP trends for sites with ≥5yrs of data.

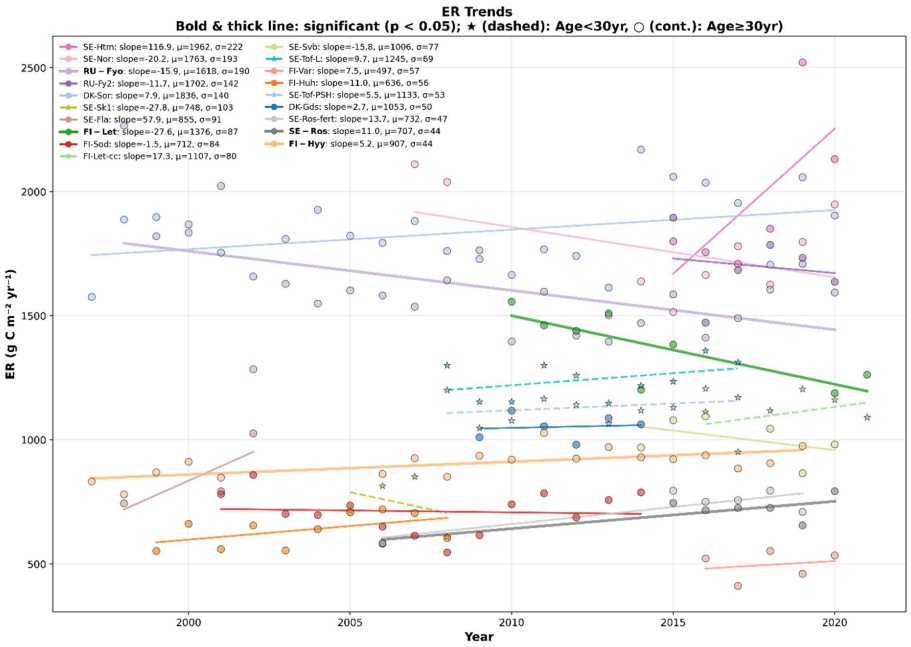

Fig S2.4: GPP trends for sites with ≥5yrs of data.

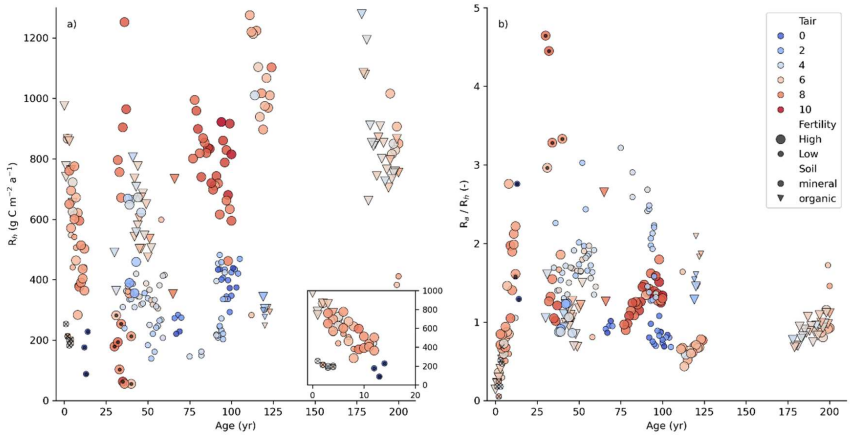

Fig. S2.5: Heterotrophic respiration (R_h) and the ratio of autotrophic (R_a) to heterotrophic respiration with respect to stand Age. The partitioning of ecosystem respiration (ER = R_a

+ R_h) assumed $R_a = (1 - CUE) \times GPP$, where ecosystem carbon use efficiency CUE = 0.5. Rate of R_h decrease is – 37 for the first 20yr after clear-cut (panel a, inset; neglecting post-fire sites).

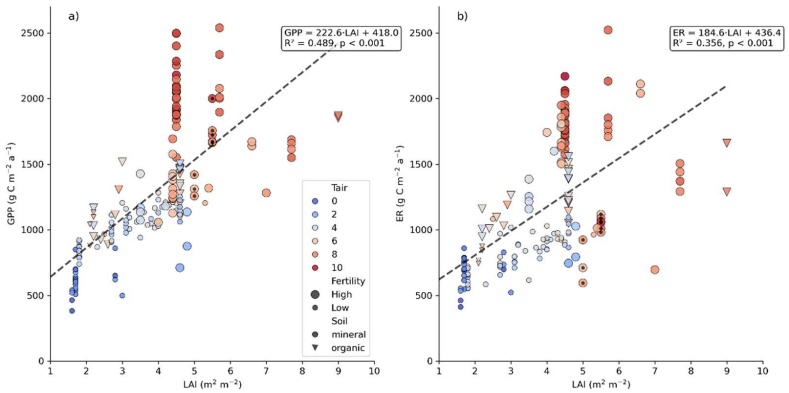

Fig. S2.6: Dependence of GPP and ER with site one-sided LAI. All sites between 30 – 130yr with LAI reported are included. Dashed lines show linear fit to the data. Mixed linear models to predict NEP, GPP and ER in the mature forest subset are shown in Table Sx.

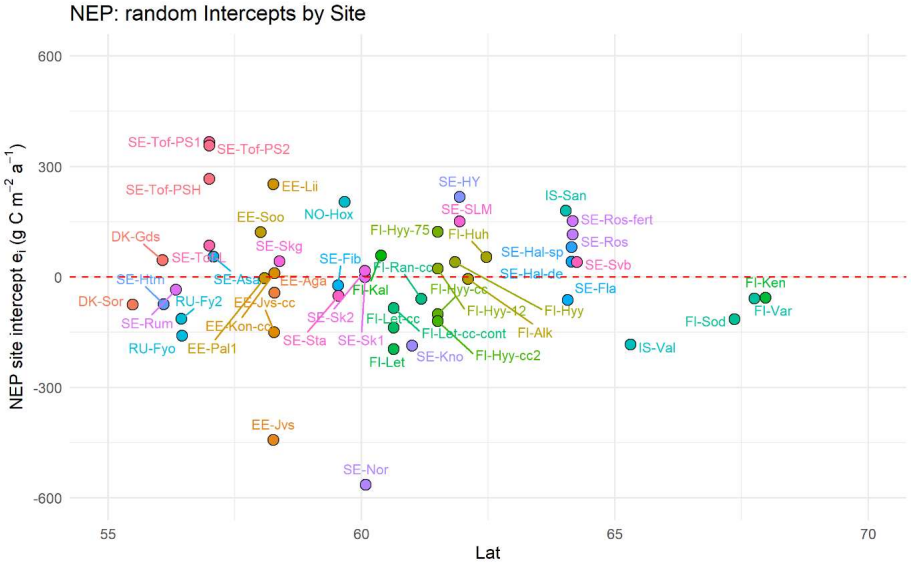

Fig. S2.7: Site intercepts (e_i) of the best NEP -model (Table 1, Full model) plotted as function of Site Latitude.

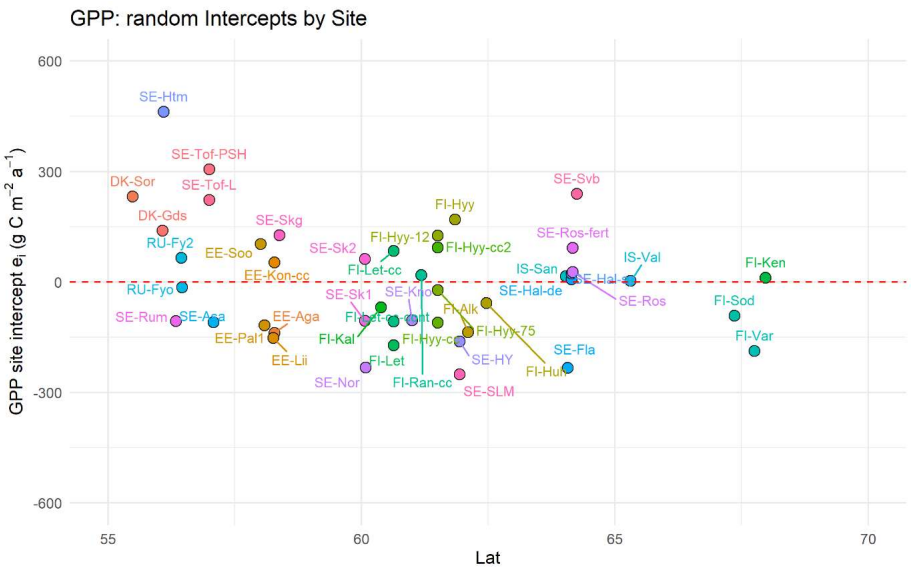

Fig. S2.8: Site intercepts (e_i) of the best GPP -model (Table 1, Full model).

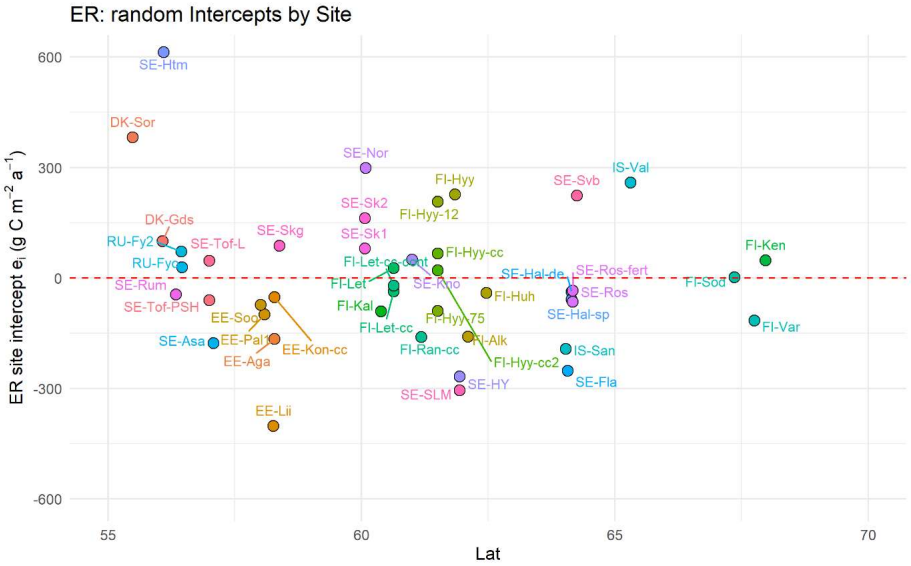

Fig. S2.9: Site intercepts (e_i) of the best GPP -model (Table 1, Full model).

2.2 Mixed linear models for mature forest subset

Text and table here!

2.3 Recovery of NEP, GPP and ER from clear-cut

We tested whether recovery of NEP, GPP and ER after clear-cut until Age of 20yr depends on site fertility. We fitted linear mixed models with site as random factor using R package *lme*, neglecting the two post-fire sites (SE-HY, SE-SLM). The results show that ER does not significantly change during the first two decades of stand development, while the revovery of GPP and thereby NEP is more than twice faster on High than Low fertility sites.

Table S2.2: Parameters of linear models for NEP, GPP and ER recovery in young stands <20 yr: $y_i = e_i + (a.0 + a.FertLow) + (b.Age + B.Age{:}FertLow) \times Age$. Marginal R^2 is the proportion of variance explained by the fixed part and DF degrees of freedom (number of site-years).

	NEP (Marginal R^2=0.81, DF=59)			**GPP** (Marginal R^2=0.88, DF=26)			**ER** (Marginal R^2=0.82, DF=26)		
	value	std	p-val.	value	std	p-val.	value	std	p-val.
a.0	-533.86	49.27	0.000	433.80	69.52	0.000	1074.03	56.69	0.000
a.Age	73.46	4.67	0.000	99.31	9.08	0.000	9.91	5.66	0.092
a.FertLow	188.51	94.41	0.067	-78.84	190.22	0.69	-262.28	157.72	0.135
b.Age	73.46	4.67	0.000	99.31	9.08	0.000	9.91	5.66	0.092
b.Age:FertLow	-45.41	6.04	0.000	-74.71	20.19	0.001	-23.96	15.89	0.144

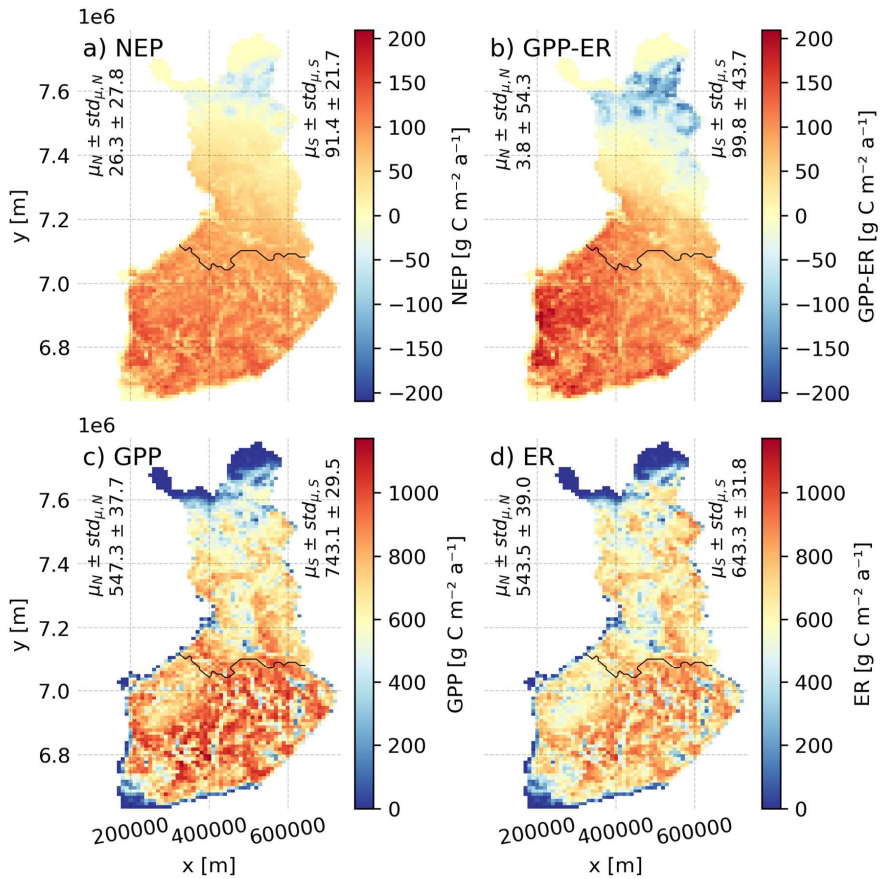

Fig. SX.X: Gridded predictions of forest (a) net ecosystem production (NEP), (b) gross primary production minus ecosystem respiration (GPP–ER), (c) gross primary production (GPP), and (d) ecosystem respiration (ER), obtained by applying the full models in Table 1 to gridded mNFI forest attributes and meteorological data. Fluxes are area-weighted by the forest land fraction within each grid cell and therefore represent grid-cell mean forest carbon fluxes. The black line indicates the boundary between southern (S) and northern (N) Finland; mean (μ) and mean standard deviations (std_μ) are reported separately for both regions.

Commented [N(1]: Näistä pitäisi pystyä laskemaan ne KHK-inventaarioon verrannolliset määrät. mNFI mukaan metsäalaa olisi etelä-suomessa:
117819515625 m²
ja pohjois-suomessa:
93877078125 m²

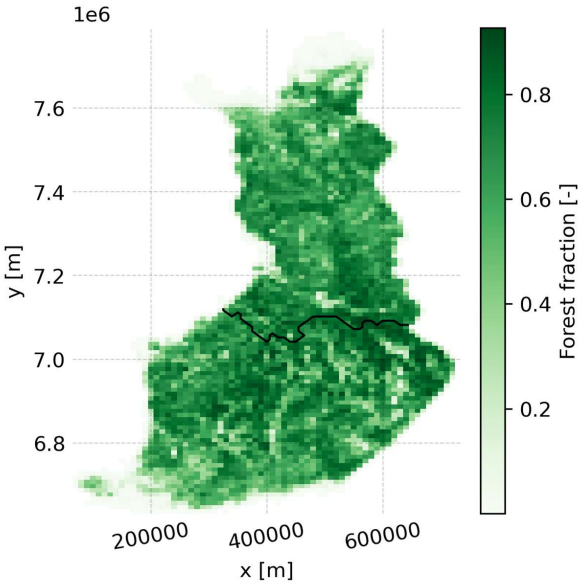

Fig. SX.X. Forest land fraction at 10 × 10 km resolution over Finland based on mNFI.